BABELTHUAP ISLAND, PW

270th TERPS - VFR DEMO ONLY

TLS1 RWY 9

PALAU INTL (ROR)(PTRO)

APP CRS	Rwy ldg	7200
090°	TDZE	177
	Apt Elev	177

TLS Approach

Circling NA north of Rwy 9-27.
Rwy 9 helicopter visibility reduction below ¾ SM NA.
Obtain local altimeter setting on CTAF; when not received, procedure NA. No controlled airspace below 5500.

MISSED APPROACH: Climb to 1900 direct **STUNR and hold.**

KOROR RADIO
123.6 (CTAF) L

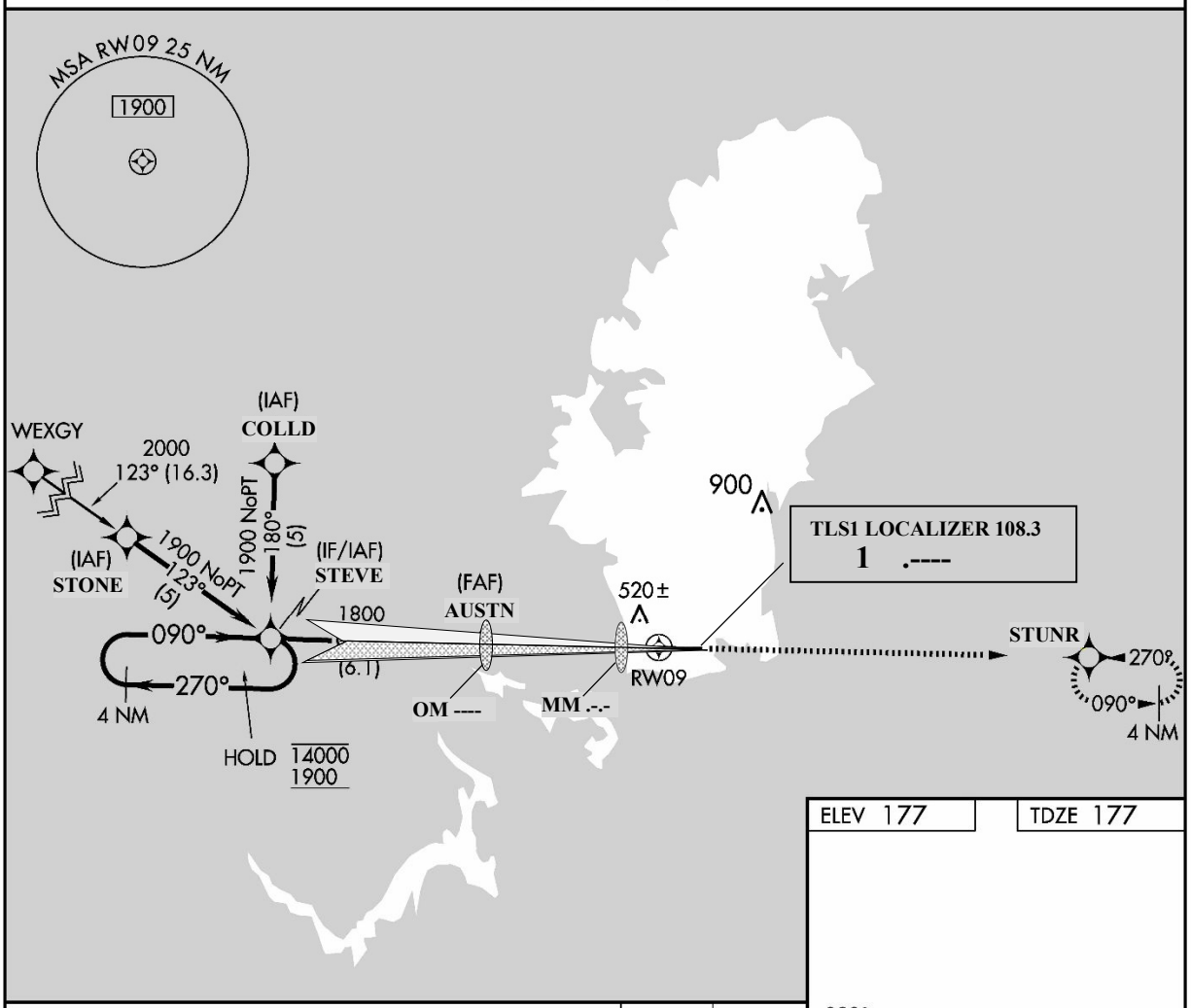

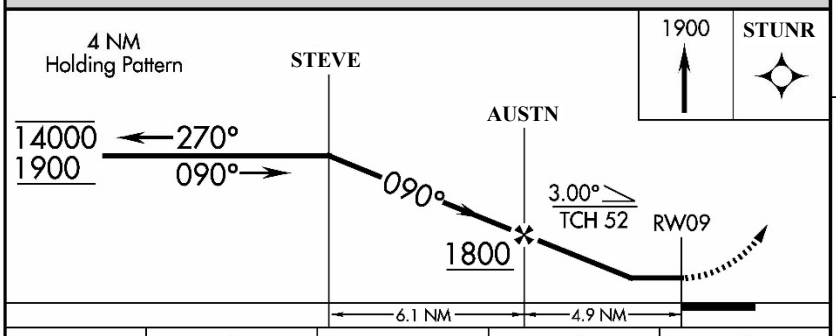

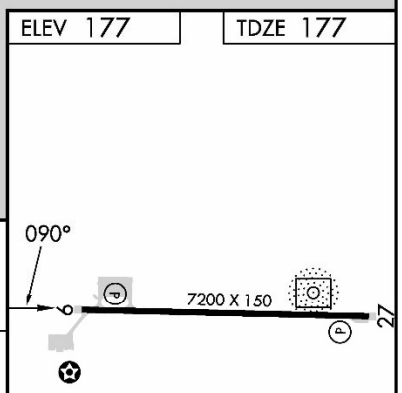

CATEGORY	A	B	C	D
TLS MDA	377-3/4	(200-3/4)	377-3/4	(200-3/4)
C CIRCLING	700-1 523 (600-1)	760-1 583 (600-1)	780-1¾ 603 (700-1¾)	780-2 603 (700-2)

MIRL Rwy 9-27 L
REIL Rwys 9 and 27

BABELTHUAP ISLAND, PW

DRAFT April 28 2025

07°22′N-134°33′E

PALAU INTL (ROR)(PTRO)

TLS1 RWY 9

April 27, 2025 FOR DEMONSTRATION ONLY

April 27, 2025 FOR DEMONSTRATION ONLY

TLS2 RWY 9

PALAU INTL (ROR)(PTRO)

APP CRS	Rwy ldg	7200
090°	TDZE	177
	Apt Elev	177

TLS Approach

Circling NA north of Rwy 9-27.
Rwy 9 helicopter visibility reduction below ¾ SM NA.
Obtain local altimeter setting on CTAF; when not received, procedure NA. No controlled airspace below 5500.

MISSED APPROACH: Climb to 1900 direct **STUNR and hold.**

KOROR RADIO
123.6 (CTAF) L

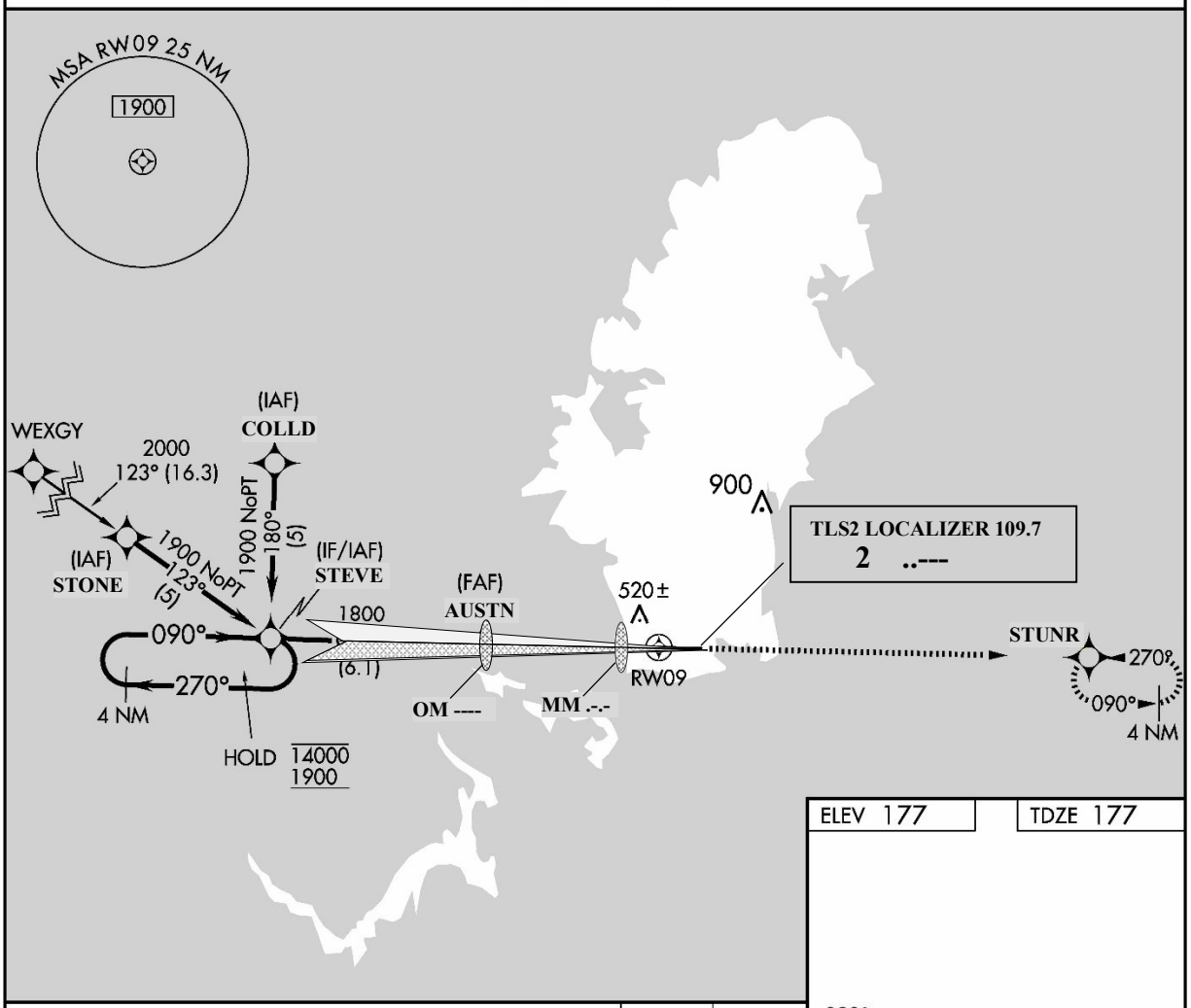

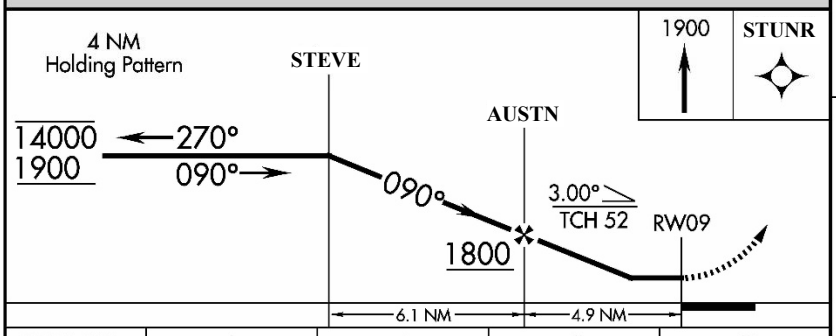

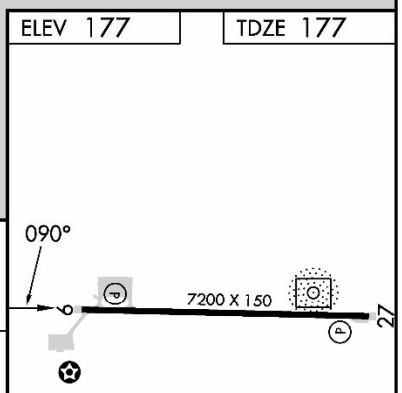

CATEGORY	A	B	C	D
TLS MDA	377-3/4	(200-3/4)	377-3/4	(200-3/4)
C CIRCLING	700-1 523 (600-1)	760-1 583 (600-1)	780-1¾ 603 (700-1¾)	780-2 603 (700-2)

MIRL Rwy 9-27 L
REIL Rwys 9 and 27

April 27, 2025 FOR DEMONSTRATION ONLY

April 27, 2025 FOR DEMONSTRATION ONLY

TLS3 RWY 9

PALAU INTL (ROR)(PTRO)

APP CRS	Rwy ldg	7200
090°	TDZE	177
	Apt Elev	177

TLS Approach

Circling NA north of Rwy 9-27.
Rwy 9 helicopter visibility reduction below ¾ SM NA.
Obtain local altimeter setting on CTAF; when not received, procedure NA. No controlled airspace below 5500.

MISSED APPROACH: Climb to 1900 direct **STUNR and hold.**

KOROR RADIO
123.6 (CTAF) L

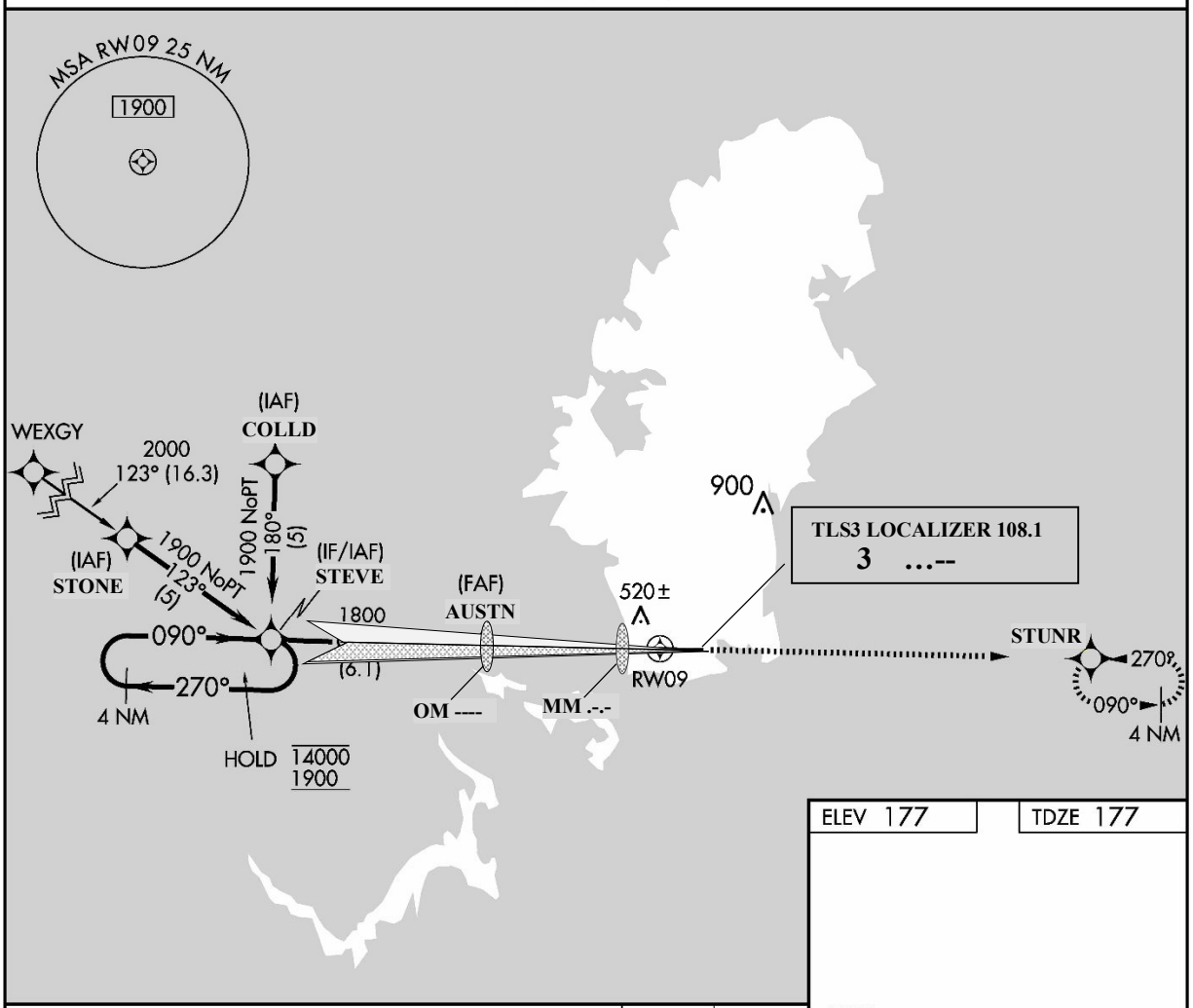

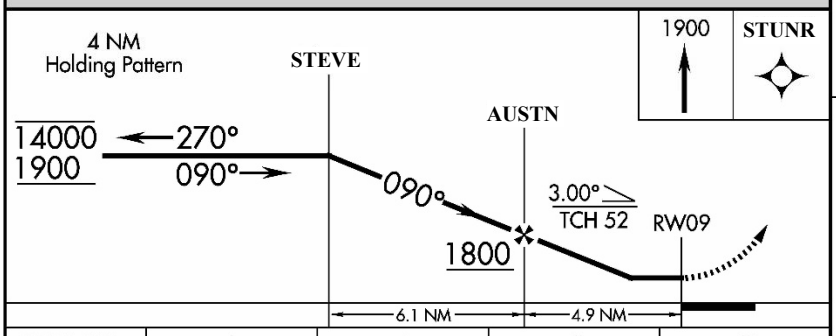

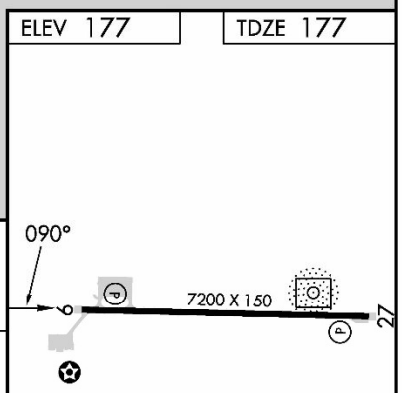

CATEGORY	A	B	C	D
TLS MDA	377-3/4	(200-3/4)	377-3/4	(200-3/4)
C CIRCLING	700-1 523 (600-1)	760-1 583 (600-1)	780-1¾ 603 (700-1¾)	780-2 603 (700-2)

MIRL Rwy 9-27 L
REIL Rwys 9 and 27

April 27, 2025 FOR DEMONSTRATION ONLY

April 27, 2025 FOR DEMONSTRATION ONLY

TLS4 RWY 9

PALAU INTL (ROR)(PTRO)

APP CRS	Rwy ldg	7200
090°	TDZE	177
	Apt Elev	177

TLS Approach

Circling NA north of Rwy 9-27.
Rwy 9 helicopter visibility reduction below ¾ SM NA.
Obtain local altimeter setting on CTAF; when not received, procedure NA. No controlled airspace below 5500.

MISSED APPROACH: Climb to 1900 direct **STUNR and hold.**

KOROR RADIO
123.6 (CTAF) L

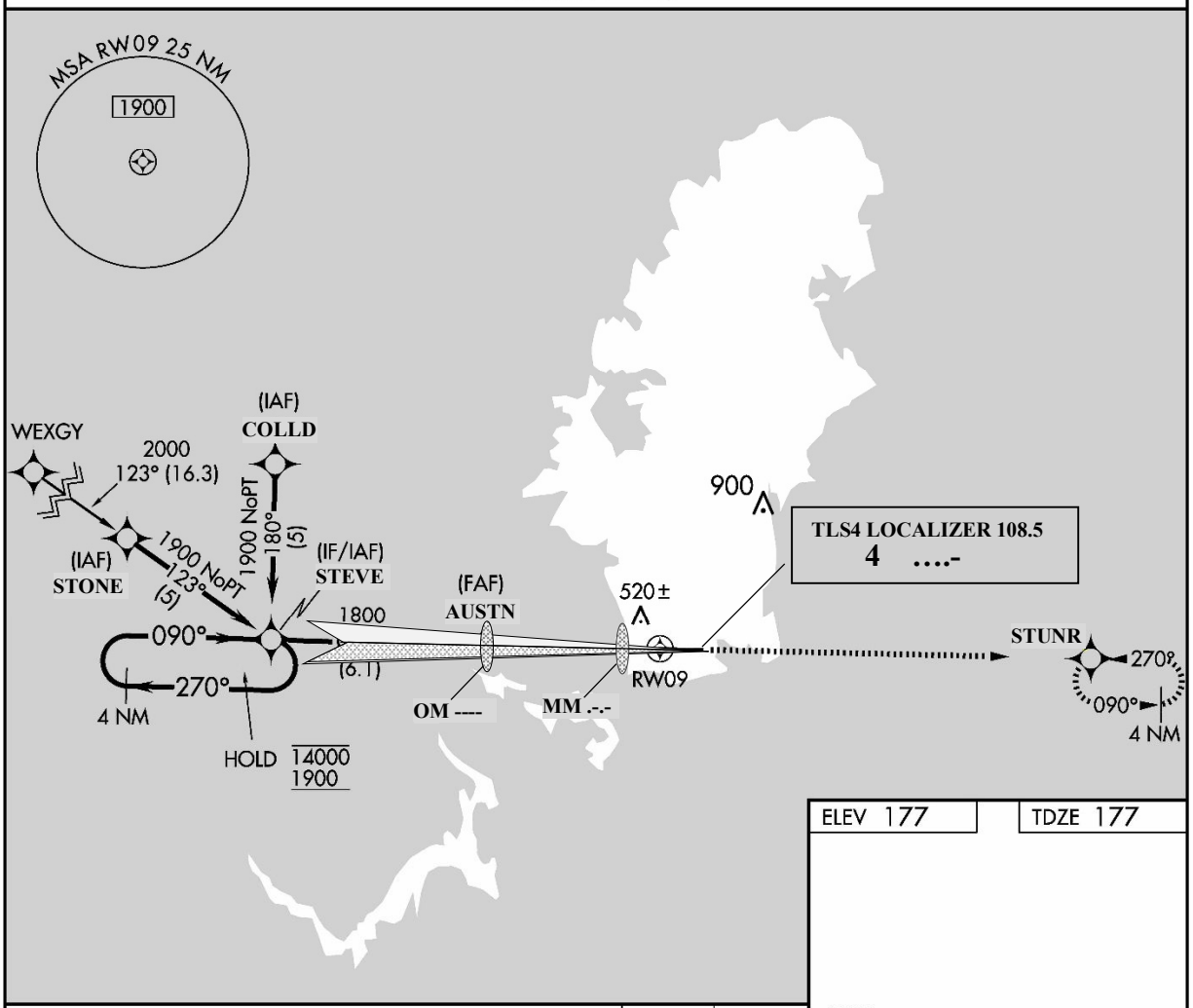

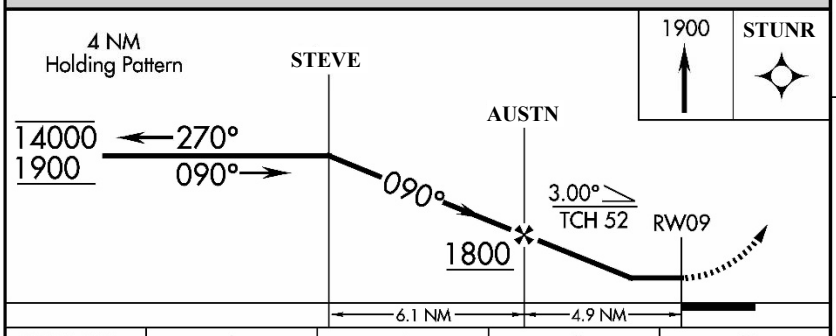

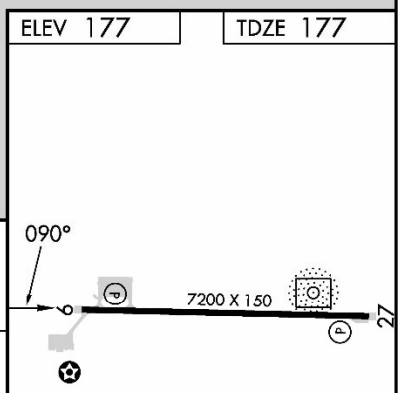

CATEGORY	A	B	C	D
TLS MDA	377-3/4	(200-3/4)	377-3/4	(200-3/4)
C CIRCLING	700-1 523 (600-1)	760-1 583 (600-1)	780-1¾ 603 (700-1¾)	780-2 603 (700-2)

MIRL Rwy 9-27 L
REIL Rwys 9 and 27

April 27, 2025 FOR DEMONSTRATION ONLY

April 27, 2025 FOR DEMONSTRATION ONLY